India RURAL

ANALYSIS BASED ON DATA FROM HOUSEHOLDS. 605 OUT OF 618 DISTRICTS
Data is not presented where sample size is insufficient.

School enrollment

Table 1: % Children enrolled in different types of schools. By age group and sex. 2024

Age group and sex	Govt	Pvt	Other	Not in school	Total
Age 6-14: All	66.8	30.6	0.7	1.9	100
Age 7-16: All	66.0	30.8	0.7	2.5	100
Age 7-10: All	67.5	30.7	0.7	1.2	100
Age 7-10: Boys	64.3	33.8	0.7	1.2	100
Age 7-10: Girls	70.7	27.4	0.6	1.3	100
Age 11-14: All	66.5	30.8	0.7	2.1	100
Age 11-14: Boys	63.4	34.1	0.7	1.9	100
Age 11-14: Girls	69.6	27.5	0.7	2.3	100
Age 15-16: All	60.3	31.3	0.6	7.9	100
Age 15-16: Boys	57.9	33.8	0.6	7.7	100
Age 15-16: Girls	62.4	28.9	0.6	8.1	100

'Other' includes children going to Madarsa or EGS.
'Not in school' includes children who never enrolled or have dropped out.

Chart 1: Trends over time % Children not enrolled in school. By age group and sex. 2006-2024

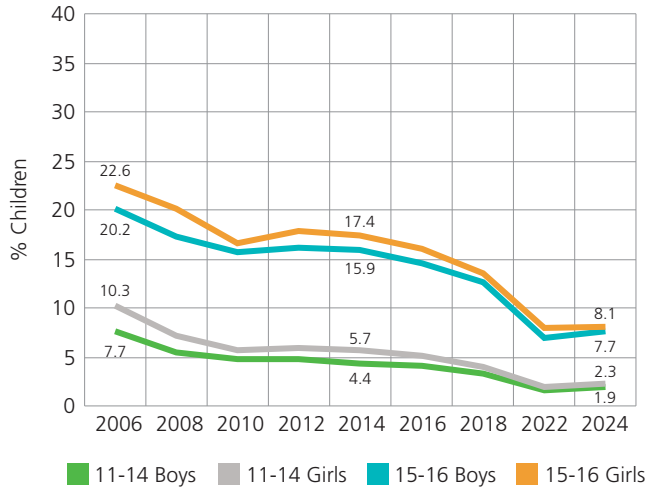

Chart 2: Trends over time % Children enrolled in govt schools in Std I-V and Std VI-VIII. By sex. 2018, 2022, 2024

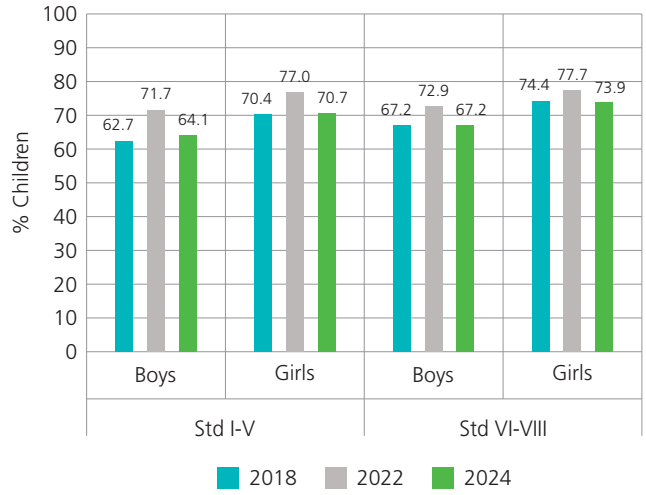

Young children in pre-school and school

Table 2: % Children enrolled in different types of pre-schools and schools. By age. 2022

Age	Pre-school			School			Not in pre-school or school	Total
	Anganwadi	Govt pre-primary	Pvt LKG/ UKG	Govt	Pvt	Other		
Age 3	66.8	1.3	7.7	1.9	0.6	0.1	21.7	100
Age 4	61.2	2.7	18.1	3.8	1.7	0.1	12.3	100
Age 5	35.3	3.4	23.4	24.6	7.3	0.4	5.5	100
Age 6	8.2	2.1	13.8	57.1	15.7	0.5	2.6	100
Age 7	1.4	0.6	6.2	68.3	21.7	0.5	1.3	100
Age 8	0.5	0.2	2.5	71.4	23.9	0.5	1.0	100

Table 3: % Children enrolled in different types of pre-schools and schools. By age. 2024

Age	Pre-school			School			Not in pre-school or school	Total
	Anganwadi	Govt pre-primary	Pvt LKG/ UKG	Govt	Pvt	Other		
Age 3	66.8	2.0	8.6	1.2	0.8	0.0	20.7	100
Age 4	57.7	3.3	22.4	2.9	2.2	0.2	11.4	100
Age 5	37.0	4.9	29.5	14.1	8.0	0.4	6.2	100
Age 6	10.7	4.1	19.0	42.9	19.3	0.6	3.3	100
Age 7	1.8	1.1	8.6	58.5	27.5	0.6	1.8	100
Age 8	0.5	0.2	3.2	64.1	30.2	0.7	1.1	100

Data is not presented where sample size is insufficient.

Reading

ASER learning assessments are conducted in the household. Children in the age group of 5-16 are assessed. Assessments are conducted in 19 languages across the country. The type of school in which children are enrolled (government or private) is also recorded.

Table 4: % Children by grade and reading level. All children. 2024

Std	Not even letter	Letter	Word	Std I level text	Std II level text	Total
I	31.9	38.8	17.2	6.9	5.3	100
II	15.1	32.7	23.2	14.9	14.1	100
III	8.2	22.6	22.2	20.0	27.0	100
IV	5.0	15.1	18.0	22.0	40.0	100
V	4.1	11.7	14.2	21.3	48.7	100
VI	2.9	8.9	10.6	19.9	57.7	100
VII	2.0	7.1	8.7	17.9	64.4	100
VIII	1.6	5.3	6.9	15.2	71.1	100

The reading tool is a progressive tool. Each row shows the variation in children's reading levels within a given grade. For example, among children in Std III, 8.2% cannot even read letters, 22.6% can read letters but not words or higher, 22.2% can read words but not Std I level text or higher, 20% can read Std I level text but not Std II level text, and 27% can read Std II level text. For each grade, the total of these exclusive categories is 100%.

Reading tool

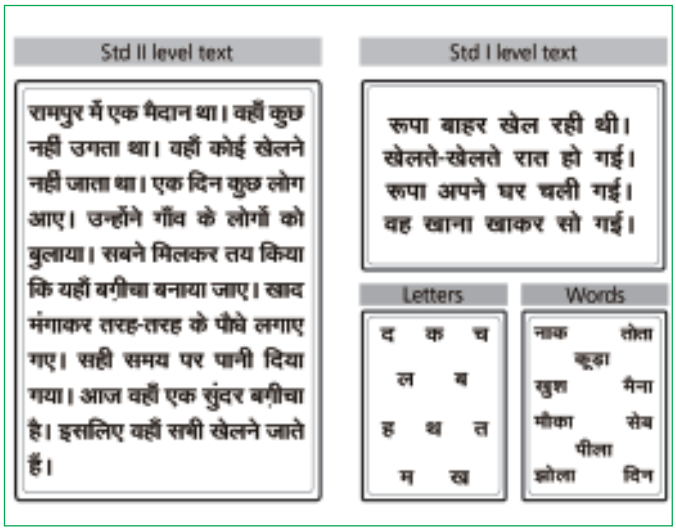

Table 5: Trends over time Reading in Std III. By school type. 2014, 2016, 2018, 2022, 2024

Year	% Children in Std III who can read Std II level text		
	Govt	Pvt	Govt & Pvt*
2014	17.2	37.8	23.6
2016	19.3	38.0	25.2
2018	20.9	40.6	27.3
2022	16.3	33.1	20.5
2024	23.4	35.5	27.1

*This is the weighted average for children in government and private schools only.

The highest level in the ASER reading assessment is a Std II level text. Table 5 shows the proportion of children in Std III who can read a Std II level text. This figure is a proxy for "grade level" reading for Std III. Data for children enrolled in government schools and private schools is shown separately.

Table 6: Trends over time Reading in Std V and Std VIII. By school type. 2014, 2016, 2018, 2022, 2024

Year	% Children in Std V who can read Std II level text			% Children in Std VIII who can read Std II level text		
	Govt	Pvt	Govt & Pvt*	Govt	Pvt	Govt & Pvt*
2014	42.2	62.6	48.0	71.5	82.4	74.7
2016	41.7	63.0	47.9	70.0	81.0	73.1
2018	44.2	65.1	50.5	69.0	82.9	73.0
2022	38.5	56.8	42.8	66.2	80.0	69.6
2024	44.8	59.3	48.8	67.5	80.0	71.1

*This is the weighted average for children in government and private schools only.

Chart 3: Trends over time % Children who can read Std II level text. By grade and sex. 2022 and 2024

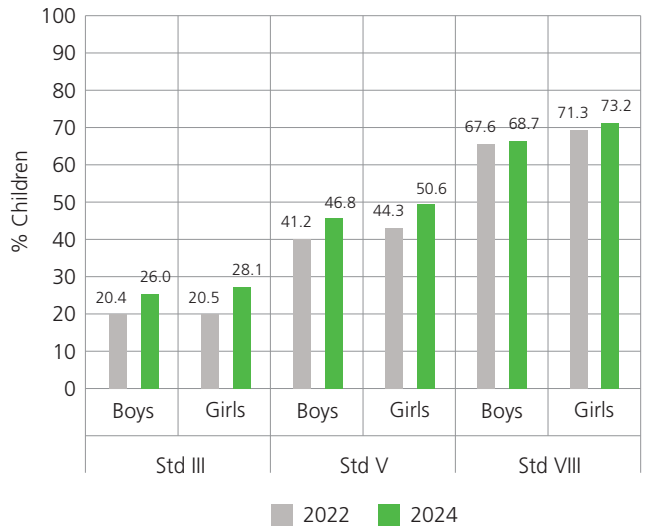

Data is not presented where sample size is insufficient.

Arithmetic

ASER learning assessments are conducted in the household. Children in the age group of 5-16 are assessed. Assessments are conducted in 19 languages across the country. The type of school in which children are enrolled (government or private) is also recorded.

Table 7: % Children by grade and arithmetic level. All children. 2024

Std	Not even 1-9	Recognise numbers 1-9	Recognise numbers 11-99	Subtract	Divide	Total
I	26.3	39.9	26.6	5.2	2.0	100
II	10.6	33.5	37.2	13.7	5.0	100
III	5.5	23.7	37.1	22.3	11.4	100
IV	2.9	15.6	34.1	25.8	21.5	100
V	2.3	11.8	30.1	25.1	30.7	100
VI	1.6	8.8	28.9	24.7	36.0	100
VII	1.2	6.6	27.2	23.5	41.5	100
VIII	1.1	4.9	25.4	22.8	45.7	100

The arithmetic tool is a progressive tool. Each row shows the variation in children's arithmetic levels within a given grade. For example, among children in Std III, 5.5% cannot even recognise numbers from 1 to 9, 23.7% can recognise numbers up to 9 but cannot recognise numbers up to 99 or higher, 37.1% can recognise numbers up to 99 but cannot do subtraction, 22.3% can do subtraction but cannot do division, and 11.4% can do division. For each grade, the total of these exclusive categories is 100%.

Arithmetic tool

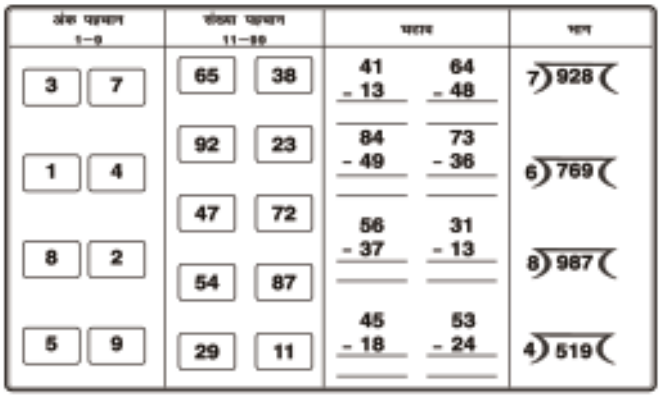

Table 8: Trends over time Arithmetic in Std III. By school type. 2014, 2016, 2018, 2022, 2024

Year	% Children in Std III who can do at least subtraction		
	Govt	Pvt	Govt & Pvt*
2014	17.2	43.4	25.4
2016	20.3	44.1	27.7
2018	20.9	43.5	28.2
2022	20.2	43.1	25.9
2024	27.6	47.5	33.7

*This is the weighted average for children in government and private schools only.

In most states, children are expected to do 2-digit by 2-digit subtraction with borrowing by Std II. Table 8 shows the proportion of children in Std III who can do subtraction. This figure is a proxy for "grade level" arithmetic for Std III. Data for children enrolled in government schools and private schools is shown separately.

Table 9: Trends over time Arithmetic in Std V and Std VIII. By school type. 2014, 2016, 2018, 2022, 2024

Year	% Children in Std V who can do division			% Children in Std VIII who can do division		
	Govt	Pvt	Govt & Pvt*	Govt	Pvt	Govt & Pvt*
2014	20.7	39.3	26.1	40.0	54.2	44.2
2016	21.1	38.0	26.0	40.2	51.2	43.3
2018	22.7	39.8	27.9	40.0	54.2	44.1
2022	21.6	38.7	25.6	41.8	53.8	44.7
2024	26.5	41.8	30.7	41.9	55.8	45.8

*This is the weighted average for children in government and private schools only.

Chart 4: Trends over time % Children who can do division. By grade and sex. 2022 and 2024

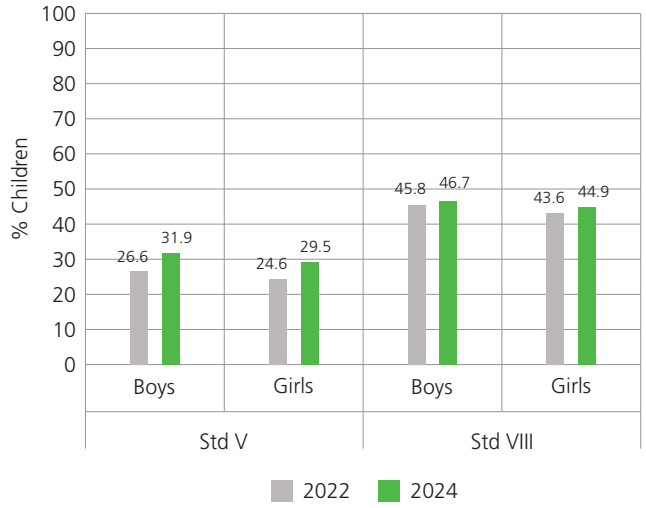

Data is not presented where sample size is insufficient.

Digital literacy: For children aged 14-16

The digital literacy section in ASER 2024 consists of two parts: a set of self-reported questions as well as a one-on-one assessment.

Access, ownership, and use of smartphones (Self-reported)

Table 10: Smartphone availability and use. By age. 2024

Age	% Children who:			Of those who can use a smartphone, % who have their own smartphone
	Have a smartphone at home	Could bring a smartphone to do digital tasks*	Can use a smartphone	
14	88.8	62.7	79.8	27.0
15	88.9	66.1	82.6	31.2
16	90.0	70.6	85.5	37.8
All	89.1	65.9	82.2	31.4

Table 11: Smartphone availability and use. By sex. 2024

Sex	% Children who:			Of those who can use a smartphone, % who have their own smartphone
	Have a smartphone at home	Could bring a smartphone to do digital tasks*	Can use a smartphone	
Boys	90.2	70.2	85.5	36.2
Girls	88.1	62.2	79.4	26.9
All	89.1	65.9	82.2	31.4

Table 12: Of those who know how to use a smartphone, % children who used a smartphone in the reference week for any educational activity or social media activity, and know how to use safety features. By age. 2024**

Age	% Children who did any education-related activity in the reference week	% Children who used any social media in the reference week	Of those who used social media, % children who can:		
			Block/ report a profile	Make a profile private	Change password
14	55.7	73.5	55.2	48.0	51.3
15	57.0	76.1	63.2	56.3	58.4
16	59.0	79.4	69.4	63.6	65.6
All	57.0	76.0	62.0	55.2	57.7

Table 13: Of those who know how to use a smartphone, % children who used a smartphone in the reference week for any educational activity or social media activity, and know how to use safety features. By sex. 2024**

Sex	% Children who did any education-related activity in the reference week	% Children who used any social media in the reference week	Of those who used social media, % children who can:		
			Block/ report a profile	Make a profile private	Change password
Boys	57.2	78.8	65.2	60.3	65.4
Girls	56.8	73.4	58.7	50.2	50.1
All	57.0	76.0	62.0	55.2	57.7

Digital tasks (Administered one-on-one to surveyed children)

ALARM	BROWSING FOR INFORMATION	FINDING AND SHARING A YOUTUBE VIDEO
8:30 in the morning tomorrow	**First woman President of India**	**PMGDISHA Module 1** *Question a: Find the "PMGDISHA Module 1" video on YouTube.*
Question: Set an alarm for 8:30 in the morning.	*Question: Search on the phone and tell me the name of the first woman President of India.*	*Question b: If could find video, then send/share it with a friend/family member using WhatsApp or Telegram.*

Table 14: % Children who could do digital tasks on a smartphone. By age and sex. 2024

Age	% Children who could bring a smartphone to do digital tasks*			Of those who could bring a smartphone, % who could do the following tasks:											
				Setting an alarm			Browsing for information			Finding YouTube video			Of those who found video, % able to share it		
	Boys	Girls	All	Boys	Girls	All	Boys	Girls	All	Boys	Girls	All	Boys	Girls	All
14	66.1	59.6	62.7	77.8	69.7	73.8	77.3	76.7	77.0	86.2	83.6	84.9	92.0	88.8	90.4
15	70.8	62.1	66.1	82.3	73.4	77.8	80.4	79.4	79.9	88.8	87.0	87.9	93.8	90.4	92.1
16	75.9	66.1	70.6	85.7	74.8	80.1	83.5	80.2	81.8	90.9	86.9	88.9	95.5	92.9	94.2
All	70.2	62.2	65.9	81.5	72.4	76.9	80.1	78.6	79.3	88.4	85.7	87.0	93.6	90.5	92.1

*Children were asked to bring a smartphone with good connectivity during the survey to do the digital tasks.
**Reference week implies the 7 days prior to the survey.

Performance of states

Table 15: Government school enrollment, children not in school, and learning levels. By state. 2018, 2022, 2024

State	Govt school			Not in school			Std III: Learning levels						Std V: Learning levels						Std VIII: Learning levels					
	% Children (aged 6-14) enrolled in govt schools			% Children (aged 15-16) not enrolled in school			% Children who can read Std II level text			% Children who can do at least subtraction			% Children who can read Std II level text			% Children who can do division			% Children who can read Std II level text			% Children who can do division		
	2018	2022	2024	2018	2022	2024	2018	2022	2024	2018	2022	2024	2018	2022	2024	2018	2022	2024	2018	2022	2024	2018	2022	2024
Andhra Pradesh	63.2	70.8	61.8	9.0	2.1	1.3	22.4	10.4	15.7	38.4	33.7	44.1	59.7	36.4	37.7	39.3	29.6	36.2	78.2	66.4	56.2	47.6	51.7	48.4
Arunachal Pradesh	60.1	62.2	56.3	10.1	7.2	10.0	18.8	10.7	19.4	33.9	35.8	39.8	37.1	37.8	41.0	27.3	22.9	30.8	70.5	73.4	76.0	50.1	46.7	47.7
Assam	71.7	71.9	69.9	13.7	7.0	5.0	19.9	17.9	18.2	29.7	24.4	29.2	40.1	36.5	38.3	17.8	15.2	16.7	60.8	68.8	65.9	31.2	27.8	29.2
Bihar	78.1	82.2	80.1	10.8	6.4	8.6	23.5	19.8	26.1	28.4	28.7	37.4	41.3	42.4	43.6	29.9	35.4	36.0	71.2	71.2	72.8	56.9	59.4	63.6
Chhattisgarh	76.4	81.7	80.6	21.7	13.5	11.8	29.8	24.4	25.0	19.3	19.7	23.3	59.5	55.4	54.4	26.9	24.8	25.7	78.7	82.0	76.0	31.1	40.7	36.7
Gujarat	85.6	90.9	86.5	19.8	6.2	10.0	33.1	23.9	25.8	25.6	23.2	19.1	53.7	34.2	46.3	20.1	14.7	14.3	73.2	52.4	75.9	35.6	31.8	30.5
Haryana	42.6	51.9	46.0	6.8	4.6	3.5	46.2	31.5	44.0	53.7	41.7	51.5	69.1	57.6	63.5	50.9	41.6	43.2	81.2	80.3	82.7	63.2	62.6	56.4
Himachal Pradesh	58.9	66.3	58.6	2.2	2.8	3.0	47.8	28.5	50.6	50.2	41.5	57.9	76.9	61.4	71.3	56.6	42.5	50.5	89.9	87.9	88.3	61.0	52.3	54.4
Jammu and Kashmir	58.3	55.5	57.2	9.9	4.8	3.8	22.3	19.1	16.6	36.2	38.7	36.4	41.9	35.1	37.7	25.0	22.3	25.1	64.8	60.9	58.5	32.9	35.7	35.8
Jharkhand	78.0	83.3	77.4	13.2	6.1	6.6	18.8	14.2	19.6	22.5	22.6	31.7	34.4	35.6	45.3	19.0	24.5	30.4	66.4	64.9	69.5	44.0	45.3	50.9
Karnataka	69.9	76.3	71.1	7.4	2.2	2.8	19.2	8.6	15.9	26.3	22.2	25.9	46.0	30.2	34.0	20.5	13.3	20.9	70.3	59.9	62.1	39.0	36.0	37.9
Kerala	48.0	64.5	44.5	0.9	0.4	0.3	52.3	38.8	45.6	47.7	38.9	32.6	77.3	64.7	66.0	43.5	26.8	21.3	89.6	83.7	84.5	51.8	44.3	38.2
Madhya Pradesh	69.6	70.0	66.9	23.4	14.9	14.3	17.6	12.1	18.8	13.9	15.1	17.6	41.6	35.6	43.7	19.8	19.1	21.7	64.4	64.4	66.9	36.6	41.9	38.0
Maharashtra	61.6	67.4	60.9	4.3	1.4	1.9	42.0	26.6	37.0	27.2	18.7	31.3	66.4	55.5	59.6	30.2	19.6	27.7	80.2	76.2	74.2	40.5	34.6	36.3
Meghalaya	35.7	43.7	38.4	12.3	9.2	13.9	24.6	16.2	19.5	19.2	18.0	22.8	50.1	39.2	42.7	7.2	11.8	16.0	82.8	75.5	75.4	28.1	28.2	19.2
Mizoram	72.4	64.7	59.3	5.3	7.6	15.4	25.6	19.8	29.6	58.9	41.8	57.2	64.3	51.2	67.5	40.2	20.9	44.7	89.4	85.6	90.7	71.0	44.7	60.9
Nagaland	49.3	50.8	45.6	9.2	9.4	12.6	22.6	21.2	20.3	36.9	33.8	37.9	48.0	48.4	49.2	25.8	15.3	20.6	83.6	86.2	79.6	51.3	50.2	40.2
Odisha	88.0	92.1	88.6	12.8	7.4	6.5	38.7	29.7	40.0	30.7	29.3	37.7	58.7	52.5	59.5	25.4	28.2	32.6	72.5	73.4	76.7	42.3	43.0	48.5
Punjab	46.7	58.8	58.0	6.2	5.2	3.3	39.4	33.0	36.5	49.7	44.8	53.3	71.6	66.2	66.6	53.0	41.1	53.1	85.1	85.4	82.2	62.4	53.7	63.9
Rajasthan	60.0	68.5	59.3	15.7	8.8	11.3	20.4	14.2	18.6	17.3	11.8	20.0	49.1	38.2	47.6	23.3	13.3	21.9	78.3	71.6	69.1	41.6	35.6	33.3
Sikkim	68.6	75.2	69.0	4.9	3.6	3.3	29.4	16.7	30.4	41.0	43.3	40.3	41.7	31.5	53.5	12.5	19.2	18.9	79.0	66.8	76.5	44.6	45.1	27.6
Tamil Nadu	67.4	75.7	68.7	2.3	1.9	1.8	10.2	4.8	12.0	26.0	11.2	27.7	40.7	25.2	35.6	25.4	14.9	20.8	73.2	63.0	64.2	50.2	44.4	40.0
Telangana	57.4	70.1	59.8	5.1	2.5	2.5	18.0	5.1	6.2	34.3	28.5	30.9	43.7	31.7	31.6	27.1	22.7	25.2	69.0	61.8	56.4	48.3	44.6	41.1
Tripura	85.2	86.1	73.8	4.9	4.6	3.4	25.6	20.3	20.9	34.8	31.6	33.2	45.0	46.7	40.7	19.2	17.2	22.0	68.3	66.4	68.8	30.7	43.8	39.4
Uttar Pradesh	44.3	59.6	49.1	19.1	12.3	13.0	28.1	24.0	34.3	26.6	28.7	40.5	52.0	46.3	56.4	29.6	31.6	39.4	73.7	70.6	75.1	44.4	49.4	55.2
Uttarakhand	55.0	61.5	62.8	6.9	3.8	4.3	34.5	27.8	39.4	32.3	23.6	36.0	64.3	53.6	63.9	37.5	30.6	39.8	83.8	82.2	82.2	48.6	44.4	52.5
West Bengal	88.1	92.2	89.6	11.7	4.9	5.4	39.9	33.0	36.3	38.6	34.2	40.9	50.7	47.3	54.6	29.7	27.5	35.0	61.8	69.2	71.3	28.7	31.8	33.7
All India	**65.6**	**72.9**	**66.8**	**13.1**	**7.5**	**7.9**	**27.2**	**20.5**	**27.0**	**28.1**	**25.9**	**33.7**	**50.4**	**42.8**	**48.7**	**27.8**	**25.6**	**30.7**	**72.8**	**69.5**	**71.1**	**43.9**	**44.6**	**45.7**

Data is not presented where sample size is insufficient.

Performance of states

Table 16: Digital access and use among children aged 14-16. 2024

State	% Children who have a smartphone at home	Self-reported smartphone usage						% Children who could bring a smartphone to do digital tasks**	Digital tasks			
		% Children who can use a smartphone	Of these, % children who:						Of these, % children who could do the following tasks:			
			Did at least 1 education related activity online in the reference week*	Used social media in the reference week*	Of those who used social media, % children who can:				Setting an alarm	Browsing for information	Finding a YouTube video	Of those who found video, % able share it
					Block/report a profile	Make a profile private	Change password					
Andhra Pradesh	93.8	88.1	66.1	82.3	64.5	66.3	62.5	71.6	86.0	80.6	86.2	98.4
Arunachal Pradesh	97.4	88.6	61.2	79.8	71.5	72.3	70.2	82.0	85.1	84.3	91.2	94.4
Assam	91.4	85.1	55.9	76.9	59.2	51.6	56.4	73.0	73.7	69.1	87.2	90.0
Bihar	82.5	76.6	57.6	75.2	65.8	57.4	59.7	63.5	75.0	80.9	87.1	93.0
Chhattisgarh	93.8	82.5	48.4	77.6	62.6	52.0	53.6	67.6	71.1	87.7	89.2	89.8
Gujarat	96.0	82.3	60.8	73.2	62.8	53.6	57.3	69.1	79.2	76.3	86.3	92.8
Haryana	92.4	88.2	66.1	77.5	68.2	66.6	68.3	73.2	89.0	90.6	94.1	96.4
Himachal Pradesh	96.7	94.3	64.8	90.2	73.7	75.0	75.7	83.4	89.4	92.2	96.2	96.9
Jammu and Kashmir	93.7	83.9	64.0	79.4	73.8	71.5	75.4	72.4	87.6	83.5	88.3	96.0
Jharkhand	85.1	76.8	63.4	70.0	66.0	56.8	56.3	62.0	74.3	82.4	89.8	93.0
Karnataka	94.5	80.8	64.4	70.6	52.3	49.2	51.8	68.4	83.0	75.9	81.9	93.2
Kerala	99.1	97.3	82.4	90.9	84.4	80.6	80.5	89.1	94.8	87.2	98.3	99.5
Madhya Pradesh	87.0	79.4	51.1	74.3	62.6	56.0	60.8	58.4	71.5	80.8	84.0	90.5
Maharashtra	94.2	84.1	63.3	72.7	60.9	55.2	55.7	70.0	83.4	86.7	89.3	92.3
Meghalaya	94.5	53.6	38.4	74.1	63.5	68.5	60.3	49.8	70.8	71.3	80.5	91.3
Mizoram	99.4	96.7	48.5	85.6	71.1	68.3	69.6	92.4	84.8	80.0	96.0	93.6
Nagaland	95.0	82.9	51.3	76.1	64.5	64.3	65.8	82.7	81.5	84.3	90.8	86.9
Odisha	83.2	80.9	61.7	77.6	57.0	51.9	58.6	69.1	75.0	71.4	85.9	93.1
Punjab	96.2	94.2	63.3	86.8	75.0	69.5	68.2	79.4	87.8	85.4	92.5	96.8
Rajasthan	91.7	78.9	50.5	73.5	58.9	56.3	56.8	50.5	72.4	81.1	82.5	89.4
Sikkim	98.6	97.5	66.4	89.9	83.9	85.4	86.1	95.9	92.3	89.3	94.7	94.9
Tamil Nadu	92.2	87.0	65.3	79.6	74.2	70.0	68.5	77.2	87.2	81.0	89.6	96.6
Telangana	96.0	92.3	61.1	82.5	67.2	60.8	62.0	75.7	89.0	84.4	88.6	98.1
Tripura	90.0	89.3	60.8	82.9	59.7	54.4	61.9	76.6	82.9	76.6	87.2	95.4
Uttar Pradesh	86.8	80.8	51.9	74.1	56.9	48.5	52.5	60.8	72.5	79.7	86.1	89.4
Uttarakhand	93.0	89.3	61.4	80.0	73.8	70.4	69.9	66.9	84.0	86.4	86.0	92.4
West Bengal	84.4	84.7	43.2	76.1	49.7	38.3	45.7	66.6	60.3	60.9	83.8	84.3
All India	**89.1**	**82.2**	**57.0**	**76.0**	**62.0**	**55.2**	**57.7**	**65.9**	**76.9**	**79.3**	**87.0**	**92.1**

*Reference week implies the 7 days prior to the survey.
**Children were asked to bring a smartphone with good connectivity during the survey to do the digital tasks.

Data is not presented where sample size is insufficient.

Data is not presented where sample size is insufficient.

School observations

In each sampled village, the largest government school with primary sections is visited on the day of the survey. Information about schools in this report is based on these visits.

Table 17: Trends over time
Number of schools visited. 2010, 2018, 2022, 2024

	2010	2018	2022	2024
Primary*	8419	9180	9622	8504
Upper primary or higher*	5821	6818	7425	7224
Total schools visited	14240	15998	17047	15728

Table 18: Trends over time
Student and teacher attendance on the day of visit. 2010, 2018, 2022, 2024

Primary	2010	2018	2022	2024
% Enrolled children present (Average)	72.9	72.4	73.0	75.9
% Teachers present (Average)	87.1	85.1	86.8	87.5
Upper primary or higher	**2010**	**2018**	**2022**	**2024**
% Enrolled children present (Average)	73.4	72.3	71.3	73.4
% Teachers present (Average)	86.4	85.8	87.5	86.9

Table 19: Trends over time
% Schools with total enrollment of 60 or less. 2010, 2018, 2022, 2024

	2010	2018	2022	2024
Primary	27.3	43.3	44.0	52.1
Upper primary or higher	2.7	10.7	11.5	13.5

Table 20: Multigrade classes. 2024

% Schools	Std I children observed sitting with any other Std	Std II children observed sitting with any other Std
Primary	67.0	66.0
Upper primary or higher	60.4	60.3

Table 21: Observation of Teaching Learning Material (TLM) in classrooms. 2024

% Schools	TLM observed in classroom (apart from textbooks)		Of those schools with TLM, work done by students displayed in classroom	
	Std I	Std II	Std I	Std II
Primary	87.0	85.7	75.0	75.9
Upper primary or higher	86.7	85.4	79.4	80.2

School facilities

Table 22: Trends over time
% Schools with selected facilities. 2010, 2018, 2022, 2024

% Schools with		2010	2018	2022	2024
Mid-day meal	Mid-day meal served in school on day of visit	84.6	87.1	89.5	91.9
	Kitchen/shed for cooking mid-day meal	82.1	91.0	89.4	89.3
Drinking water	No facility for drinking water	17.0	13.9	12.5	12.6
	Facility but no drinking water available	10.3	11.3	11.4	9.8
	Drinking water available	72.7	74.8	76.1	77.7
	Total	100	100	100	100
Toilet	No toilet facility	11.0	3.0	2.9	2.3
	Facility but toilet not useable	41.8	22.8	21.0	18.7
	Toilet useable	47.2	74.2	76.2	79.0
	Total	100	100	100	100
Girls' toilet	No separate provision for girls' toilet	31.2	11.5	10.8	9.8
	Separate provision but locked	18.7	10.5	8.1	6.3
	Separate provision, unlocked but not useable	17.2	11.7	12.8	12.0
	Separate provision, unlocked and useable	32.9	66.4	68.4	72.0
	Total	100	100	100	100
Library	No library	37.4	25.8	21.7	17.5
	Library but no books being used by children on day of visit	24.7	37.3	34.4	31.2
	Library books being used by children on day of visit	37.9	36.9	43.9	51.3
	Total	100	100	100	100
Electricity	Electricity connection		75.0	93.0	95.9
	Of schools with electricity connection, % schools with electricity available on day of visit		78.5	85.3	89.7
Computer	No computer available for children to use	84.2	78.7	77.3	72.6
	Computer available but not being used by children on day of visit	7.2	14.8	14.8	16.2
	Computer being used by children on day of visit	8.6	6.5	7.9	11.1
	Total	100	100	100	100

*Primary schools offer Std I-IV/V; upper primary schools offer Std I-VI/VII/VIII.

Data is not presented where sample size is insufficient.

Other school indicators

In each sampled village, the largest government school with primary sections is visited on the day of the survey. Information about schools in this report is based on these visits.

Table 23: Foundational Literacy and Numeracy (FLN) activities. 2024

% Schools		Received a directive from govt to implement FLN activities with Std I-II / III	At least one teacher received training on FLN		Received Teaching Learning Material (TLM) for FLN activities**	Received funds for TLM for FLN activities**	School readiness program held for Std I
			Offline	Online			
Current academic year (2024-2025)	Primary*	80.5	75.2	59.7	73.2	37.0	75.7
	Upper primary or higher*	86.5	80.5	69.1	76.1	35.3	77.8
Previous academic year (2023-2024)	Primary	81.4	78.9	69.0	76.4	47.0	75.1
	Upper primary or higher	85.8	82.0	76.5	76.6	39.6	77.1

Table 24: Trends over time Distribution of language and math textbooks. 2022 and 2024

% Schools		Textbooks distributed			
		All grades	Some grades	No grades/ don't know	Total
Primary	2022	90.2	6.8	3.0	100
	2024	95.8	3.8	0.4	100
Upper primary or higher	2022	84.4	8.7	6.9	100
	2024	95.1	4.5	0.3	100

Table 25: Trends over time Distribution of uniforms. 2022 and 2024

% Schools		Uniforms distributed				If not distributed in all grades, then % schools where funds given
		All grades	Some grades	No grades/ don't know	Total	
Primary	2022	68.2	9.3	22.5	100	52.8
	2024	64.1	12.0	24.0	100	66.2
Upper primary or higher	2022	51.1	16.2	32.7	100	50.8
	2024	54.5	14.9	30.6	100	56.2

Table 26: Trends over time Physical education. 2018, 2022, 2024

% Schools with		Primary			Upper primary or higher		
		2018	2022	2024	2018	2022	2024
Weekly time allotted for physical education for every class			74.6	83.0		79.2	87.4
Physical education teacher	Separate teacher	5.8	4.3	4.8	30.8	31.3	30.2
	Any other teacher	63.0	62.2	66.4	46.6	45.5	51.7
	No teacher	31.2	33.4	28.8	22.6	23.2	18.1
	Total	100	100	100	100	100	100
Playground in the school		64.2	66.7	66.2	69.6	71.8	72.2
Sports equipment available		55.8	80.6	81.6	71.5	82.7	83.3

*Primary schools offer Std I-IV/V; upper primary schools offer Std I-VI/VII/VIII.
**Schools could have received TLM, funds to purchase TLM, or both.

Data is not presented where sample size is insufficient.

Table 27A: Trends over time
Performance of schools with respect to selected Right to Education indicators. By state. 2010, 2018, 2022, 2024

State	Number of schools visited				PTR & CTR								School facilities							
					% Schools complying with:								% Schools with:							
					Pupil-teacher ratio norms				Classroom-teacher ratio norms				Office/store/office cum store				Playground			
	2010	2018	2022	2024	2010	2018	2022	2024	2010	2018	2022	2024	2010	2018	2022	2024	2010	2018	2022	2024
Andhra Pradesh	374	379	298	352	60.0	61.5	57.4	62.6	53.9	70.0	75.3	82.9	57.0	58.6	59.4	51.4	61.2	61.9	64.2	71.7
Arunachal Pradesh	259	159	238	182	78.0	74.2	78.0	82.1	79.8	65.3	67.5	62.8	77.7	86.6	82.2	82.2	58.9	55.4	76.0	81.1
Assam	519	714	740	734	33.6	47.4	49.1	57.9	67.7	68.5	66.0	65.5	57.5	63.1	57.0	63.0	61.5	61.1	61.9	65.7
Bihar	967	1100	1101	1114	8.8	19.7	19.1	38.2	48.2	59.6	61.7	63.1	69.0	83.7	80.3	82.8	48.3	51.1	54.9	47.9
Chhattisgarh	425	468	1645	786	39.6	56.6	43.7	40.5	64.2	71.8	70.1	83.4	79.0	82.8	82.1	80.1	45.0	68.8	71.7	70.1
Gujarat	623	644	711	648	62.7	83.5	77.6	78.7	84.2	86.3	89.2	84.2	80.2	78.0	89.8	77.8	75.5	82.6	75.7	79.9
Haryana	528	613	500	531	40.3	76.3	59.5	74.7	75.1	79.2	80.6	73.4	85.8	88.3	86.8	85.7	79.7	83.4	84.0	84.3
Himachal Pradesh	261	293	263	268	60.6	56.8	47.5	58.1	76.7	78.9	87.1	85.7	75.9	79.8	81.1	86.8	75.6	81.7	82.8	84.2
Jammu and Kashmir	0	376	529	517		92.6	92.4	88.4		43.8	56.3	60.2		84.5	88.1	86.7		54.7	59.7	59.1
Jharkhand	547	674	677	671	11.2	28.3	21.2	27.7	81.2	83.1	85.1	84.9	84.9	86.6	86.3	87.2	37.9	39.1	43.2	44.8
Karnataka	769	848	812	827	69.4	79.4	71.6	78.1	82.8	82.6	85.5	84.7	72.1	81.8	79.8	75.1	66.0	78.9	78.5	78.2
Kerala	275	279	412	358	89.2	94.6	94.9	98.3	80.3	84.7	90.6	70.8	88.4	93.2	74.6	71.8	76.3	67.7	75.1	81.8
Madhya Pradesh	1219	1451	1454	1432	19.4	49.0	54.1	60.7	81.4	71.3	64.6	70.4	69.5	70.7	73.6	73.2	61.1	69.2	74.2	75.1
Maharashtra	902	927	823	872	58.9	77.6	67.7	76.5	87.6	83.7	81.7	81.0	34.3	38.7	30.8	48.3	84.7	86.8	85.6	80.6
Meghalaya	110	143	117	122	54.3	45.2	54.0	45.5	84.2	78.1	78.3	83.0	34.6	47.5	39.5	51.6	45.8	54.4	57.9	69.7
Mizoram	174	233	212	180	89.1	75.4	95.2	94.9	57.6	69.1	44.5	64.6	78.5	84.1	49.5	65.7	39.0	65.5	78.0	83.1
Nagaland	223	289	216	247	91.9	97.6	98.5	97.3	78.6	56.1	70.8	60.5	83.8	82.4	87.7	84.7	64.2	52.1	54.6	65.5
Odisha	741	812	807	813	22.5	56.0	52.2	53.2	74.0	73.2	75.2	79.0	74.7	84.7	77.4	83.8	44.4	31.8	32.0	39.1
Punjab	449	554	590	582	34.9	76.1	65.6	69.8	76.9	72.8	79.6	78.9	78.5	80.1	81.6	83.0	69.3	72.0	76.1	74.8
Rajasthan	896	837	749	785	46.4	67.2	68.5	81.6	82.0	79.3	77.3	70.6	91.2	94.3	92.7	94.2	51.7	70.3	77.8	76.1
Sikkim	69	108	94	101	93.4	99.0	98.9	99.0	61.3	81.2	54.7	53.3	92.7	73.7	87.1	86.0	79.7	87.9	87.2	97.0
Tamil Nadu	662	750	691	534	47.0	59.9	44.5	51.8	75.2	81.2	81.0	81.5	54.8	50.9	39.1	38.9	68.7	72.5	69.7	67.1
Telangana	258	259	259	262	64.2	66.4	57.3	70.9	52.6	68.5	72.2	67.8	75.1	80.7	79.1	75.7	83.9	77.0	78.1	83.6
Uttar Pradesh	1896	1998	2030	2030	16.1	33.3	43.3	64.2	81.6	71.3	68.5	71.6	88.6	86.3	89.0	89.2	60.8	71.3	72.7	71.2
Uttarakhand	337	296	280	266	13.7	31.3	23.4	25.1	87.4	81.8	86.7	87.7	87.7	90.7	90.1	93.5	67.0	68.6	73.5	75.0
West Bengal	408	441	480	469	26.2	64.3	61.1	65.3	64.8	54.8	63.4	57.4	79.0	81.5	83.5	81.2	42.1	52.8	57.8	60.3
All India	**14240**	**15998**	**17047**	**15728**	**38.9**	**57.8**	**55.0**	**63.5**	**76.2**	**72.9**	**72.9**	**73.8**	**74.1**	**77.2**	**76.7**	**77.5**	**62.0**	**66.5**	**68.9**	**68.9**

Table 27B: Trends over time
Performance of schools with respect to selected Right to Education indicators. By state. 2010, 2018, 2022, 2024

State	School facilities																			
	% Schools with:																			
	Boundary wall				Kitchen shed for cooking mid-day meal				Drinking water available				Toilet available and useable				Girls' toilet available and useable			
	2010	2018	2022	2024	2010	2018	2022	2024	2010	2018	2022	2024	2010	2018	2022	2024	2010	2018	2022	2024
Andhra Pradesh	47.2	55.1	79.3	81.7	64.2	72.9	73.7	77.1	64.8	58.1	65.6	55.9	38.6	86.4	82.8	78.4	25.4	81.1	80.8	77.2
Arunachal Pradesh	24.5	51.4	63.1	65.6	64.0	57.4	57.1	59.8	53.2	44.7	62.0	58.8	25.3	50.0	60.1	55.3	12.2	28.2	43.6	37.6
Assam	19.1	59.5	55.6	62.6	80.2	92.2	91.2	90.4	60.9	68.0	78.3	79.4	33.1	21.4	82.6	80.9	13.7	16.0	70.2	67.7
Bihar	48.1	55.7	56.1	59.3	64.0	91.6	86.4	81.1	78.7	89.7	87.3	88.7	33.6	75.6	70.9	82.5	18.1	63.0	63.8	73.6
Chhattisgarh	48.8	71.8	77.5	82.7	86.1	97.0	93.5	90.9	77.6	82.5	82.2	81.1	29.6	85.7	71.3	73.6	20.0	75.7	60.0	62.7
Gujarat	84.4	96.3	94.3	92.4	88.3	90.4	69.0	90.6	79.4	88.0	71.8	83.5	64.8	91.3	95.8	77.4	49.9	87.4	94.2	75.6
Haryana	82.7	90.8	92.9	92.8	51.0	88.2	90.6	91.3	74.6	82.0	84.7	80.5	67.9	90.8	71.4	78.7	52.8	84.4	68.5	74.6
Himachal Pradesh	37.9	63.6	63.9	71.4	82.5	99.3	99.2	97.8	83.2	89.4	88.9	90.4	56.0	94.2	87.1	89.9	38.7	86.3	76.4	81.7
Jammu and Kashmir		38.7	55.6	53.2		86.3	87.4	88.9		54.6	69.3	74.8		73.0	72.8	81.8		48.2	53.1	57.6
Jharkhand	27.0	34.8	43.4	47.9	73.5	88.7	84.8	88.9	73.8	82.6	82.1	86.7	26.8	74.9	75.7	78.0	20.9	72.5	72.8	75.5
Karnataka	59.3	84.7	81.9	85.1	92.9	93.0	92.4	92.5	75.8	76.8	67.8	66.8	38.4	70.8	71.4	80.7	31.8	66.4	67.0	77.7
Kerala	81.8	80.2	88.4	90.7	98.1	99.2	99.3	99.4	85.7	52.9	52.7	57.3	58.2	89.4	72.3	85.6	43.9	83.4	69.8	82.5
Madhya Pradesh	37.3	44.7	61.3	62.4	89.9	85.7	82.6	79.7	78.5	71.0	69.3	70.7	50.3	68.3	67.2	68.8	28.9	56.5	55.1	58.9
Maharashtra	57.5	74.0	81.5	77.9	78.2	94.9	94.1	95.4	69.0	70.9	67.3	66.5	53.0	70.1	65.2	61.8	43.2	63.9	60.8	58.3
Meghalaya	14.2	12.7	17.5	19.7	60.6	84.5	92.1	92.6	23.9	15.5	16.2	23.8	24.5	44.8	44.4	62.3	14.8	29.9	29.8	31.2
Mizoram	37.7	35.5	50.5	46.3	96.2	96.1	93.3	94.9	48.5	57.4	58.0	60.3	55.6	44.6	72.9	57.9	30.8	34.9	47.3	36.3
Nagaland	42.8	36.4	30.5	57.1	81.7	83.0	85.9	81.4	37.0	27.3	25.7	39.8	53.9	61.8	64.4	68.1	30.6	47.0	48.6	46.0
Odisha	40.8	50.4	65.4	70.9	74.4	89.7	90.6	92.0	70.3	82.8	85.4	85.5	44.4	75.7	82.1	73.6	34.7	69.1	76.5	68.8
Punjab	82.8	92.6	93.1	98.6	94.7	99.1	99.3	99.5	83.1	82.7	92.7	88.6	61.2	89.5	84.1	81.2	49.4	83.9	79.6	77.0
Rajasthan	70.1	84.6	87.6	89.2	83.8	92.8	90.5	89.4	68.0	72.8	74.7	85.6	65.4	84.9	86.8	92.7	50.3	80.9	84.4	88.0
Sikkim	14.5	35.9	34.4	68.3	95.7	95.3	96.8	97.0	76.8	74.5	74.2	78.0	59.4	82.4	81.9	87.1	37.5	75.7	77.7	79.2
Tamil Nadu	60.7	75.6	78.4	84.1	96.7	96.2	95.0	96.6	80.5	80.2	82.0	77.7	44.6	90.2	82.9	81.4	35.1	86.2	78.6	77.5
Telangana	61.2	71.4	76.5	84.0	71.0	86.4	84.5	80.5	64.8	57.2	56.9	53.2	38.6	77.0	73.4	75.7	25.4	71.9	63.8	73.7
Uttar Pradesh	44.4	72.4	88.3	91.9	89.3	95.4	94.0	91.3	82.2	85.1	88.0	88.5	47.4	72.7	82.0	89.9	33.9	67.2	78.0	88.3
Uttarakhand	66.8	58.3	71.3	75.1	96.3	98.0	94.9	98.9	68.3	75.6	84.4	86.6	53.4	85.8	76.3	90.5	24.0	67.2	58.6	79.8
West Bengal	34.5	55.1	72.5	65.4	86.3	94.0	95.8	93.8	67.2	81.3	78.1	75.5	52.1	81.1	84.0	82.3	23.7	67.7	71.5	66.2
All India	**51.0**	**64.4**	**72.4**	**75.3**	**82.1**	**91.0**	**89.4**	**89.3**	**72.7**	**74.8**	**76.1**	**77.7**	**47.2**	**74.2**	**76.2**	**79.0**	**32.9**	**66.4**	**68.4**	**72.0**

Data is not presented where sample size is insufficient.

Data is not presented where sample size is insufficient.

Table 28A: Trends over time
Performance of schools with respect to other selected indicators. By state. 2010, 2018, 2022, 2024

State	% Enrolled children present (Average)				% Teachers present (Average)				% Schools with: Total enrollment of 60 or less				% Schools with: Weekly time allotted for physical education for every class				% Schools with: Sports equipment available			
	2010	2018	2022	2024	2010	2018	2022	2024	2010	2018	2022	2024	2010	2018	2022	2024	2010	2018	2022	2024
Andhra Pradesh	75.6	82.0	83.3	89.8	83.4	82.1	85.5	85.8	31.5	38.6	40.3	54.0			79.4	86.9		80.9	77.8	88.4
Arunachal Pradesh	82.5	77.7	76.1	74.6	85.3	71.1	76.7	77.0	33.9	49.0	55.8	61.1			30.2	49.7		28.2	57.0	63.1
Assam	69.0	72.9	77.2	67.8	90.0	87.4	91.0	91.6	40.9	41.0	40.5	44.3			66.1	78.4		50.1	86.5	94.0
Bihar	55.9	53.7	54.6	55.2	81.7	72.1	83.3	81.2	0.2	1.3	1.3	3.3			65.9	77.5		54.5	65.3	78.1
Chhattisgarh	70.5	75.2	71.1	74.1	86.5	84.2	86.6	89.9	16.1	40.2	43.8	54.4			91.6	94.1		49.6	90.5	85.6
Gujarat	84.7	85.6	84.3	86.4	95.8	92.3	96.9	95.9	4.6	12.8	12.2	14.4			91.2	92.9		81.0	86.0	84.0
Haryana	82.4	77.6	78.6	78.4	89.0	87.5	87.3	84.9	6.5	17.6	14.4	24.2			67.3	82.9		61.4	82.6	82.3
Himachal Pradesh	90.0	83.4	83.3	85.2	88.0	75.8	82.8	81.2	48.6	83.1	81.4	86.9			65.0	88.8		70.0	95.4	92.9
Jammu and Kashmir		76.9	74.5	77.8		82.4	84.1	84.8		52.4	53.8	53.2			71.7	79.7		76.0	88.7	90.5
Jharkhand	59.9	61.9	64.9	69.0	84.4	90.4	92.3	87.4	7.7	18.9	18.4	21.0			70.9	84.2		67.4	79.5	88.9
Karnataka	72.5	84.1	87.5	86.9	89.5	89.9	92.6	89.5	17.8	26.3	29.9	32.4			76.7	83.0		72.5	73.1	67.7
Kerala	92.4	83.2	83.1	84.8	92.5	85.0	88.9	87.3	19.9	24.1	16.2	28.4			86.0	93.1		65.8	71.6	62.9
Madhya Pradesh	66.6	55.8	56.8	57.8	87.9	85.7	85.1	87.9	10.4	33.8	29.7	36.6			71.4	79.9		57.3	81.8	69.7
Maharashtra	92.0	86.3	85.6	87.8	92.7	89.4	93.4	92.5	16.7	26.4	29.2	32.8			96.0	97.5		74.2	78.6	73.3
Meghalaya	75.5	74.9	74.4	77.8	93.0	86.6	92.7	88.4	71.0	69.0	75.4	79.5			43.9	62.0		19.9	42.1	42.6
Mizoram	85.8	83.4	84.4	90.3	94.4	83.2	88.3	90.8	39.8	84.1	73.0	89.3			75.8	73.0		75.0	73.0	82.3
Nagaland	82.0	78.2	84.6	83.9	87.2	79.2	88.4	84.9	45.8	61.3	69.5	72.7			24.4	35.8		42.6	58.8	69.7
Odisha	72.1	81.0	82.1	81.2	86.6	93.4	93.3	89.8	21.4	31.6	30.8	32.6			81.0	95.4		70.4	85.9	91.6
Punjab	82.7	83.0	79.7	80.1	88.5	85.5	85.7	81.8	17.2	38.2	33.8	37.0			69.8	70.6		58.5	91.9	89.3
Rajasthan	72.8	75.1	73.6	73.7	88.7	85.9	84.5	87.9	13.0	17.7	22.3	27.0			79.5	89.9		65.1	88.0	86.9
Sikkim	83.7	84.5	82.5	88.6	80.4	81.1	81.2	90.0	23.2	53.3	70.2	60.4			72.3	87.1		80.2	91.5	92.1
Tamil Nadu	90.3	91.1	88.6	88.8	83.8	93.1	93.4	91.3	24.4	39.6	40.0	46.0			80.9	83.3		73.7	76.7	78.3
Telangana	67.9	74.9	75.5	73.5	82.3	84.7	85.5	85.5	17.2	34.8	25.9	45.2			45.9	77.7		59.1	48.6	82.3
Uttar Pradesh	57.6	59.9	56.2	70.6	80.9	85.6	79.8	85.2	4.6	10.4	7.9	17.6			88.7	94.0		57.1	95.7	96.7
Uttarakhand	89.7	82.9	82.2	86.6	90.9	86.2	89.1	84.9	69.0	73.1	74.0	79.0			89.9	96.2		50.5	90.9	90.4
West Bengal	68.5	54.9	68.2	64.3	85.6	76.7	86.3	83.8	10.1	20.2	22.5	30.0			77.0	85.3		54.3	57.7	61.6
All India	**73.1**	**72.4**	**72.2**	**74.8**	**86.8**	**85.4**	**87.1**	**87.3**	**17.3**	**29.4**	**29.8**	**34.4**			**76.7**	**85.1**		**62.4**	**81.5**	**82.4**

Table 28B: Trends over time
Performance of schools with respect to other selected indicators. By state. 2010, 2018, 2022, 2024

State	% Schools with:																			
	Library books available				Library books available and children observed using them on day of visit				Computer available for children				Computer available and children observed using them on day of visit				Mid-day meal served in school on day of visit			
	2010	2018	2022	2024	2010	2018	2022	2024	2010	2018	2022	2024	2010	2018	2022	2024	2010	2018	2022	2024
Andhra Pradesh	92.0	91.0	80.4	83.8	77.6	54.8	55.7	67.0	9.3	22.6	24.2	19.2	6.2	6.6	8.2	9.3	99.7	96.0	98.6	98.6
Arunachal Pradesh	13.0	24.1	22.0	22.5	6.3	4.4	5.9	9.3	14.3	7.7	13.7	16.5	8.0	1.3	3.9	6.0	47.1	36.2	51.3	57.2
Assam	20.8	73.1	72.7	77.2	10.5	38.8	34.2	41.2	1.8	6.5	8.6	11.6	0.2	1.6	1.6	2.6	67.3	64.0	66.3	83.0
Bihar	52.9	59.1	66.0	67.9	28.2	27.5	35.4	43.5	6.9	3.4	7.6	16.5	4.0	0.6	1.5	9.4	57.2	84.5	86.8	92.9
Chhattisgarh	72.9	89.7	84.4	88.9	36.5	23.8	24.9	41.8	4.1	2.4	3.2	3.5	1.7	0.4	0.3	0.5	94.6	91.7	93.6	96.3
Gujarat	83.8	85.3	89.1	83.6	48.5	40.5	72.3	55.4	52.2	66.9	61.4	74.6	27.9	24.0	40.9	40.0	96.2	94.1	82.6	98.6
Haryana	64.6	84.0	82.7	86.4	31.6	39.1	49.5	59.2	17.4	18.3	25.3	28.5	6.9	5.1	11.1	12.7	93.7	?	87.5	95.5
Himachal Pradesh	80.3	97.3	95.1	96.3	41.3	24.3	36.5	32.6	6.7	6.6	11.3	17.2	3.2	2.1	2.3	2.3	98.0	93.1	91.1	95.5
Jammu and Kashmir		58.9	62.7	72.0		26.6	32.3	33.0		17.2	28.4	29.7		4.6	11.8	15.1		77.3	82.2	84.2
Jharkhand	61.6	87.1	86.2	86.3	28.4	50.5	59.1	53.5	7.0	6.6	8.5	32.9	4.1	1.1	2.0	15.7	92.6	79.0	89.4	95.3
Karnataka	92.4	83.0	82.6	89.6	64.8	36.1	51.9	56.3	29.4	41.8	32.4	35.8	13.4	9.9	10.9	13.8	96.0	97.5	99.6	99.3
Kerala	83.1	90.0	84.9	87.7	62.4	30.5	13.9	20.6	82.8	75.4	73.0	70.2	66.7	22.4	19.9	14.9	100.0	96.1	92.6	89.9
Madhya Pradesh	56.3	84.0	83.4	87.7	29.1	43.8	48.6	59.2	7.5	3.8	4.8	8.5	1.7	0.7	0.8	3.0	94.7	82.9	88.3	91.8
Maharashtra	86.1	88.4	85.2	89.0	66.5	36.9	40.5	51.7	33.3	64.6	53.0	51.7	19.8	19.0	19.0	20.4	90.7	94.7	93.2	95.1
Meghalaya	22.0	10.6	16.2	27.1	15.6	2.8	11.1	17.2	2.8	2.1	1.7	3.3	0.9	0.7	0.0	1.6	51.9	47.9	49.1	61.5
Mizoram	6.4	17.6	38.7	43.9	1.7	2.6	12.3	6.7	7.7	9.9	4.4	10.6	5.9	0.4	0.0	0.0	94.0	89.2	92.4	75.0
Nagaland	13.3	12.9	55.1	74.1	9.2	6.9	25.0	31.4	14.8	13.2	30.5	37.4	3.7	2.4	6.6	4.6	31.9	27.4	27.2	44.8
Odisha	65.3	80.2	59.0	57.6	46.8	54.0	38.8	38.2	7.1	18.7	17.5	20.3	4.4	6.4	5.5	6.2	88.8	98.8	98.6	98.1
Punjab	96.0	88.1	96.8	97.2	66.0	44.9	40.6	40.7	10.7	21.5	85.5	84.3	5.2	3.8	22.2	31.7	97.9	93.4	99.1	97.4
Rajasthan	63.7	81.8	84.8	90.2	23.3	34.1	36.4	50.4	15.7	38.6	33.8	37.0	5.3	11.6	11.1	17.2	94.8	95.1	95.4	82.4
Sikkim	44.1	52.3	68.1	79.2	26.5	31.8	44.7	59.4	39.1	33.6	63.4	68.3	24.6	9.4	34.4	35.6	98.6	78.5	98.9	96.0
Tamil Nadu	79.1	83.8	80.0	86.7	57.8	52.4	54.5	64.3	47.0	57.9	43.3	58.7	29.4	29.3	19.4	28.5	99.4	98.7	99.6	99.2
Telangana	92.0	77.7	81.0	86.1	77.6	55.7	62.0	56.8	9.3	10.6	14.1	9.0	6.2	3.1	2.3	3.9	98.4	95.8	97.3	91.5
Uttar Pradesh	48.7	63.1	93.4	98.5	22.9	35.7	67.5	77.6	1.4	3.3	6.1	10.9	0.3	0.7	1.2	3.2	71.3	93.3	94.2	95.4
Uttarakhand	47.7	84.8	89.6	98.2	20.4	26.1	55.9	57.1	6.7	9.8	39.4	59.6	1.5	0.7	7.3	19.3	95.0	88.1	97.1	98.9
West Bengal	49.5	66.1	47.0	52.9	31.8	38.4	34.0	33.5	1.3	6.7	5.2	4.7	0.5	1.2	0.8	1.1	63.4	81.6	92.5	84.9
All India	**62.6**	**74.2**	**78.3**	**82.5**	**37.9**	**36.9**	**43.9**	**51.3**	**15.8**	**21.3**	**22.7**	**27.4**	**8.6**	**6.5**	**7.9**	**11.1**	**84.6**	**87.1**	**89.5**	**91.9**

Data is not presented where sample size is insufficient.